Plugging into the Future: An Exploration of Electricity Consumption Patterns using Tableau

1. Introduction

The energy sector generates a large amount of data related to electricity consumption, regional variations, geographical coordinates, and temporal characteristics. Analyzing such large datasets manually is difficult and time-consuming. Data visualization tools help transform complex datasets into meaningful visual insights that are easier to interpret.

This project focuses on analyzing electricity consumption patterns across different Indian states. The aim is to understand how different factors such as states, regions, and time influence electricity usage.

For this purpose, **Tableau** was used as the primary data visualization tool to create interactive charts, dashboards, and visual insights that help in better understanding electricity consumption trends.

---

2. Problem Statement

Electricity consumption is influenced by multiple factors such as regional distribution, time period, and geographical location. When dealing with large datasets, it becomes difficult to manually analyze these relationships and identify patterns that affect usage levels.

The main problem addressed in this project is to analyze electricity consumption data and identify patterns and trends using visualization techniques. By presenting the data through charts, maps, and dashboards, users can easily understand electricity consumption behavior across different states and regions.

---

3. Objectives of the Project

The main objectives of this project are:

- To collect and analyze electricity consumption data.
- To preprocess and clean the dataset for accurate analysis.
- To visualize electricity consumption patterns using interactive charts.
- To analyze relationships between states, regions, dates, and electricity usage.
- To generate meaningful insights using data visualization techniques.

---

4. Data Collection

Data collection is the process of gathering relevant information required for analysis.

In this project, electricity consumption data was collected from a **CSV dataset**. The dataset contains information related to electricity usage across different states and regions of India.

Important attributes in the dataset include:

- State Name
- Region
- Latitude
- Longitude
- Date (Year and Month)
- Electricity Usage

These attributes help analyze geographical, regional, and temporal patterns in electricity consumption.

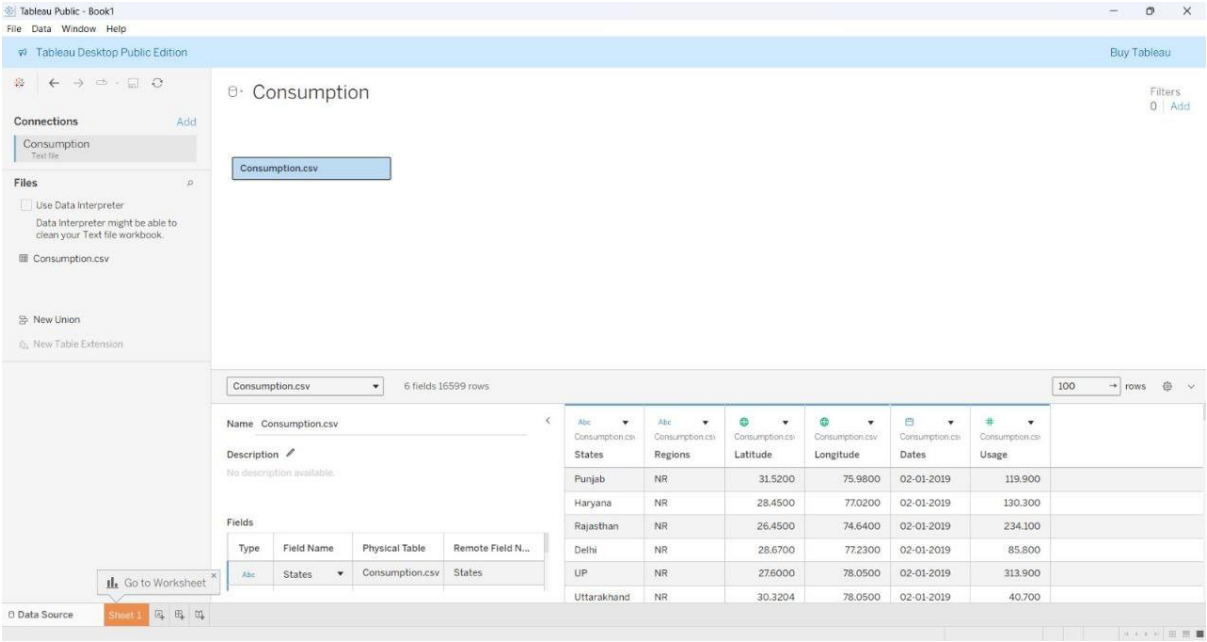

---

5. Data Extraction and Loading

After collecting the dataset, the next step was to load it into the analysis environment.

The dataset was imported into **Tableau**, where it was connected to the visualization workspace. After loading the data, its structure was verified to ensure that all columns and records were correctly imported.

The dataset file **Consumption.csv** contains **16,599 rows of data**. The dataset was also loaded into SQL databases (MSSQL and MySQL) for validation, ensuring that the data was correctly inserted and ready for analysis.

---

6. Data Preparation

Data preparation is an important step because raw data may contain missing values, duplicate records, or inconsistent formatting.

The following preprocessing steps were performed:

Handling Missing Values

Missing values were identified and handled appropriately to maintain data accuracy.

Removing Duplicate Records

Duplicate entries were removed to ensure reliability and correctness of the analysis.

Data Formatting

Columns were formatted according to their appropriate data types:

- Dates → Date format
- Usage → Integer values
- Latitude and Longitude → Decimal values

Proper formatting ensures that the data works correctly during visualization.

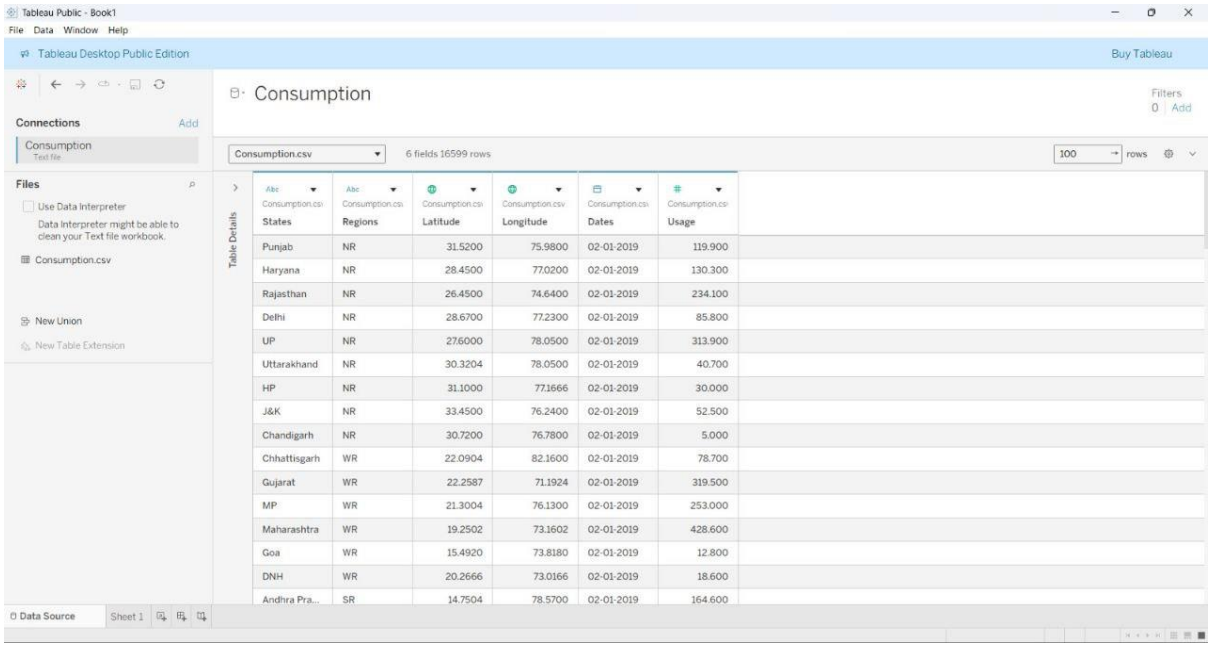

---

7. Data Visualization

Data visualization converts complex datasets into graphical formats that are easier to understand and analyze.

Several visualizations were created in Tableau to study electricity consumption trends.

Bar Charts

Bar charts were used to compare electricity usage across different states and regions.

Example:

- Horizontal bar chart showing **SUM(Usage) by States**
- Color-coded by regions

Maps (Geographical Visualization)

Geographical maps were used to visualize electricity consumption across Indian states.

Choropleth maps were created for:

- **2019 State Consumption**
- **2020 State Consumption**

These maps help identify states with higher electricity demand.

Distribution and Trend Charts

Line charts were used to analyze trends such as:

- Monthly electricity consumption
- Seasonal demand variations

These visualizations help identify consumption patterns over time.

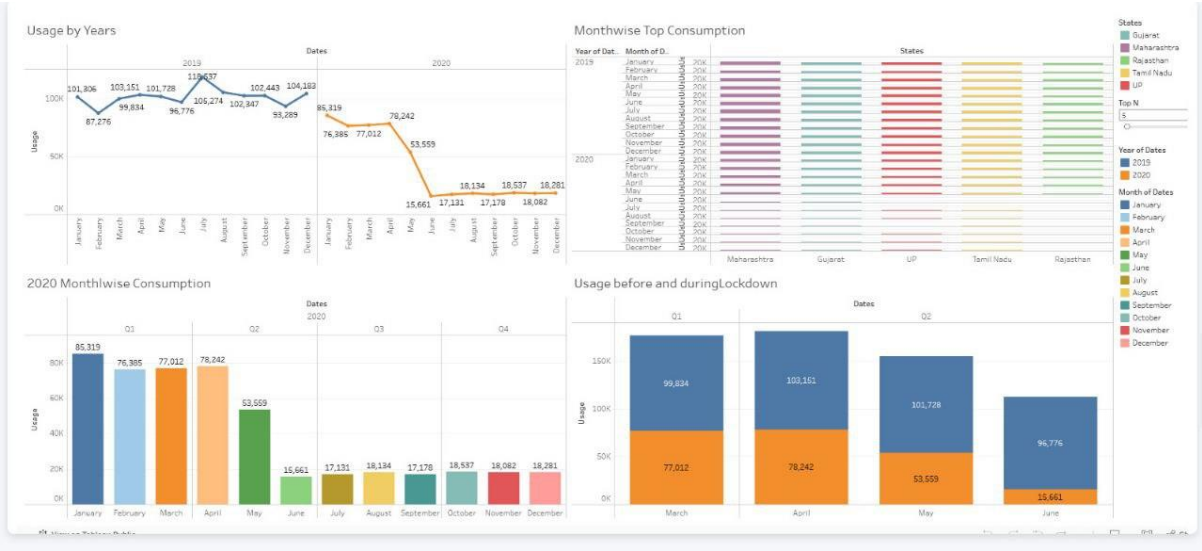

---

8. Dashboard Development

To make the analysis more interactive and user-friendly, multiple visualizations were combined into a **Tableau Dashboard**.

The dashboard allows users to explore electricity consumption patterns in a single interface.

Key Features of the Dashboard

- Interactive visualizations
- Filter options (States, Regions, Dates)
- Multiple charts combined in one view
- Easy navigation and user interaction

The dashboard includes visualizations such as:

- Region-wise State Consumption
- Yearly Consumption Maps (2019 vs 2020)
- Quarterly Usage Trends
- Usage by Years
- Top-N States by Electricity Consumption

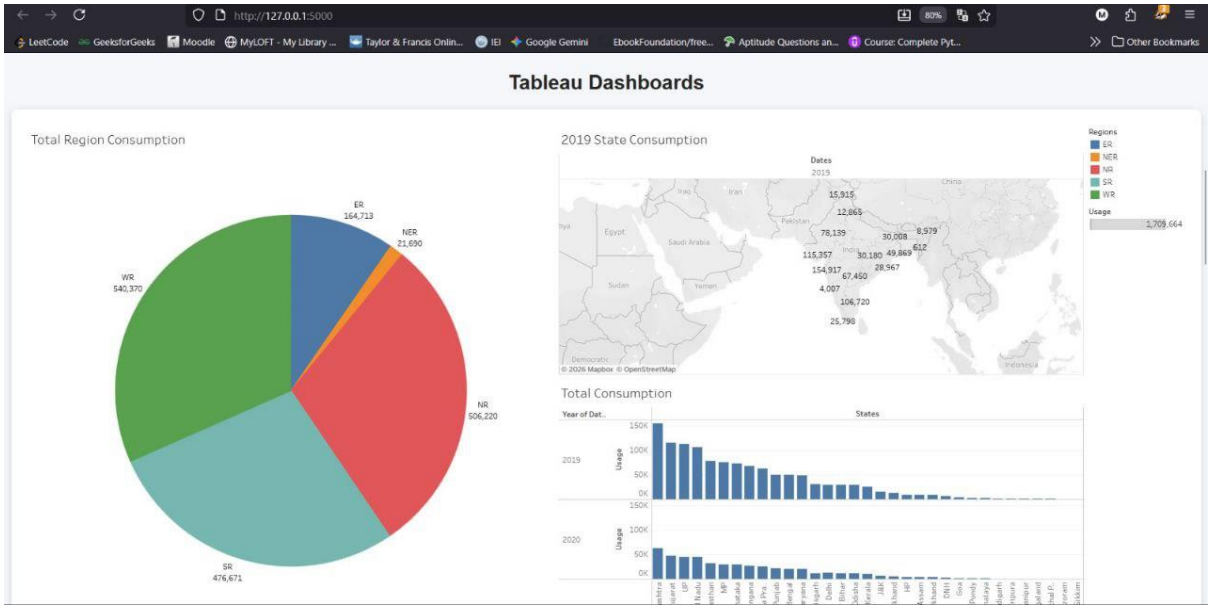

---

9. Storyboard

A **Tableau Story** was created to present the analysis step by step.

Each story point highlights a specific insight, such as:

- State-wise electricity consumption
- Regional comparisons
- Monthly usage trends

The storytelling approach helps guide viewers through the analysis in a structured and easy-to-understand way.

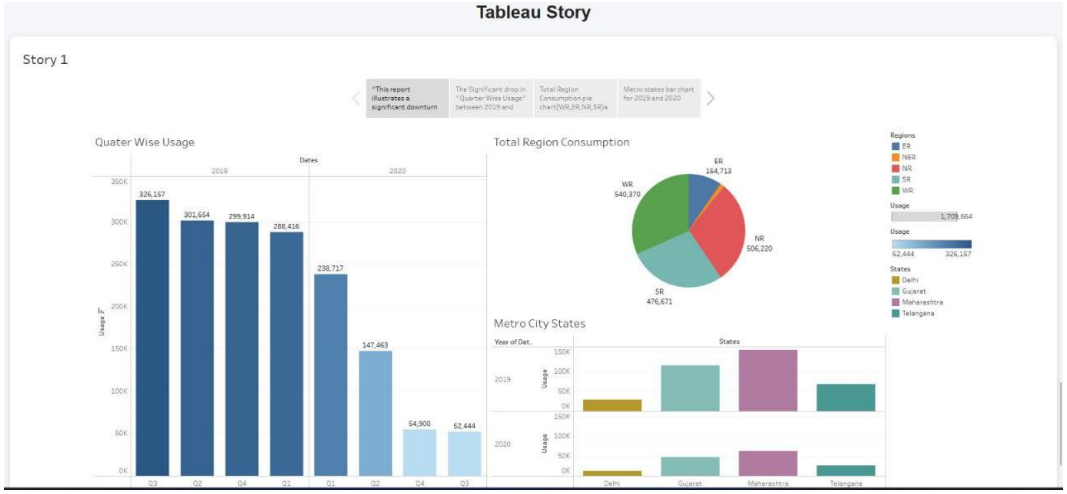

---

10. Performance Testing

Performance testing was conducted to ensure that the dashboard works efficiently.

The following aspects were evaluated:

- Dashboard loading speed
- Filter responsiveness
- Chart interaction performance
- Overall user experience

Good performance ensures smooth usage and better user interaction.

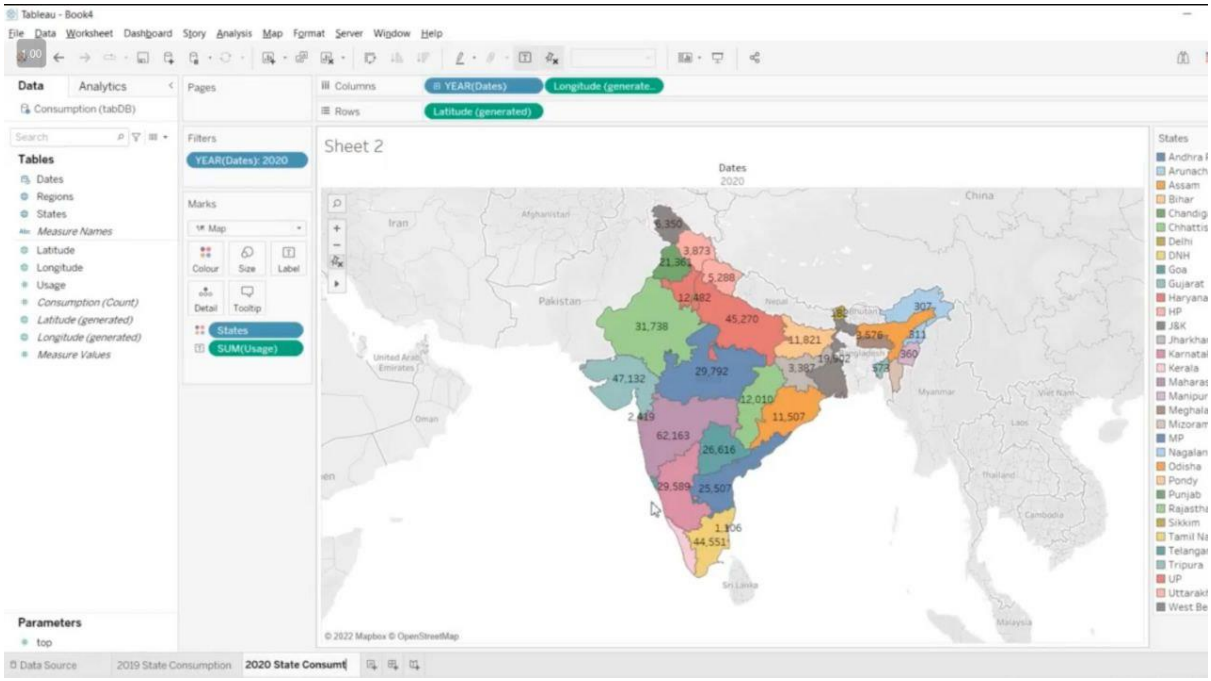

---

11. Web Integration

To improve accessibility, the Tableau dashboard was integrated into a **web interface**.

This allows users to access the visualization through an internet browser and explore electricity consumption insights online.

Web integration also makes it easier to share the dashboard with stakeholders and users.

---

12. Key Insights

The analysis of the electricity consumption dataset revealed several important insights:

- Northern region states such as **Uttar Pradesh** show significantly higher electricity consumption.

- The Northern region contributes approximately **45% of the total electricity usage**.
- Electricity consumption in **2019 (1.7M units)** was slightly higher compared to **2020 (1.6M units)**.
- Seasonal patterns show higher demand during certain months due to weather conditions.
- Geographical visualizations help identify regional demand clusters.

These insights help in understanding electricity consumption behavior across India.

---

13. Conclusion

This project demonstrates how data visualization tools like Tableau can transform raw electricity consumption data into meaningful insights.

By creating charts, maps, dashboards, and stories, the project makes it easier to analyze electricity consumption patterns across states and regions.

These visual insights can help support **better planning, monitoring, and decision-making in the energy sector**.